WEATHER DATA ANALYSIS REPORT

AUTHOR : Ayisha Mariyam

PROJECT OUTLINE :

This project focuses on analyzing weather data to identify patterns, trends, and relationships among key meteorological variables such as temperature, humidity, rainfall, and wind speed. The analysis follows a structured data analytics workflow to extract meaningful insights from the dataset.

PROJECT SUMMARY :

Weather data plays a crucial role in understanding climate patterns, predicting environmental changes, and supporting decision-making in areas such as agriculture, transportation, and disaster management. This report presents an exploratory analysis of a weather dataset to identify patterns and relationships among meteorological variables such as temperature, humidity, rainfall, and wind speed. The dataset was cleaned and analyzed using Python-based data analytics tools to uncover trends and statistical relationships. The analysis shows that temperature varies significantly across observations, while humidity levels often correlate with rainfall events. Wind speed patterns also demonstrate variability depending on atmospheric conditions. Feature engineering techniques were applied to create new indicators such as temperature range and average temperature to provide deeper insights into weather conditions. The findings of this analysis demonstrate how weather data can be used to understand environmental patterns and support predictive weather analytics.

METHODOLOGY :

Before conducting the analysis, several preprocessing steps were performed to ensure data quality and reliability.

- The dataset was loaded into the Python environment using the Pandas library.
- The dataset structure was examined using .info() and .describe() functions.
- Missing values were identified using .isnull().sum().
- Rows containing missing values were removed to maintain dataset consistency.
- Duplicate records were checked and removed to avoid redundant observations.
- Data types were verified to ensure numerical variables were properly formatted for statistical analysis.

These steps ensured the dataset was clean and ready for accurate analysis.

TOOLS USED :

Python, Pandas, NumPy, Matplotlib, Seaborn, and Jupyter Notebook were used for performing data cleaning, analysis, and visualization.

ANALYSIS FINDINGS (KEY ANALYSIS AREAS) :

- **Temperature Distribution :**

  The histogram of maximum temperature values shows that temperature observations vary across a moderate range. Most values fall within a central range, indicating typical seasonal weather patterns.

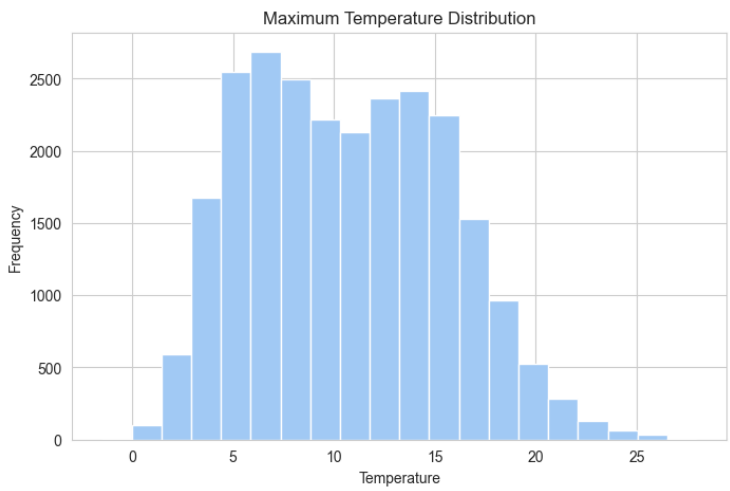

- **Humidity Distribution :**

  Humidity levels show a relatively wide distribution across observations. Higher humidity levels often coincide with rainfall events, suggesting a relationship between atmospheric moisture and precipitation.

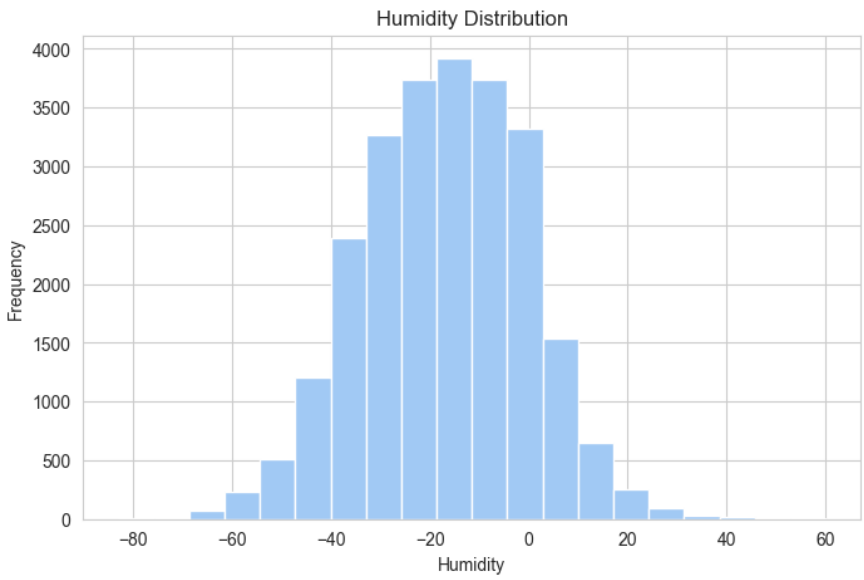

- **Rainfall Distribution:**

Rainfall observations indicate that precipitation events occur less frequently but can vary significantly in intensity. This pattern is common in many climate datasets..

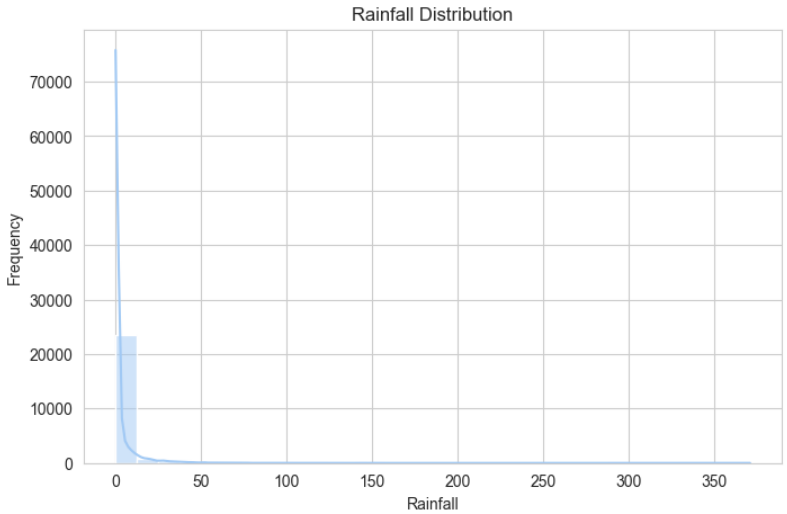

- **Temperature Trend :**

The temperature trend visualization illustrates fluctuations over time, reflecting natural weather variability.

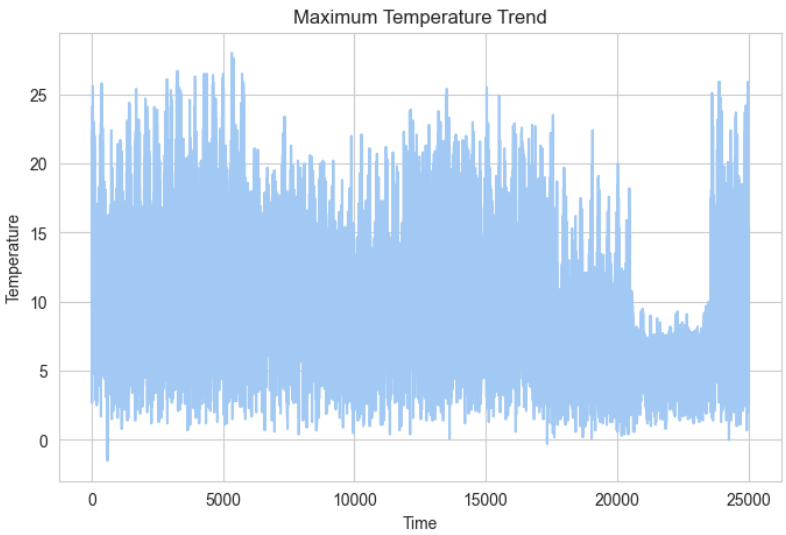

STATISTICAL INSIGHTS :

Statistical analysis provides deeper understanding of the variability and relationships within the dataset.

Key statistical observations include:

- Temperature values show moderate variability across observations.
- Humidity levels demonstrate a broad range, indicating changing atmospheric moisture levels.
- Rainfall occurrences are less frequent but contribute significantly to overall weather variability.
- Feature engineering metrics such as temperature range help measure daily weather fluctuations.
- Correlation analysis shows relationships between rainfall, humidity, and temperature variables.

These statistical measures help quantify weather patterns and environmental dynamics.

KEY FINDINGS :

- Temperature values show noticeable variation across the dataset.
- Higher humidity levels are often associated with rainfall events.
- Rainfall occurrences are relatively less frequent but vary in intensity.
- Feature engineering results such as temperature range reveal daily weather variability.
- Correlation analysis indicates meaningful relationships between weather variables.
- Temperature trends fluctuate over time.

BUSINESS RECOMMENDATIONS :

- Improve Weather Monitoring Systems.
- Use Data Analytics for Climate Forecasting.
- Support Agricultural Planning.
- Monitor Extreme Weather Indicators.
- Integrate Weather Analytics with Decision Systems.

CONCLUSION :

This report presented a comprehensive analysis of a weather dataset using Python-based data analytics tools. The analysis involved data cleaning, exploratory data analysis, feature engineering, and statistical evaluation. The results highlight important patterns in temperature variation, humidity distribution, rainfall occurrence, and wind speed behavior. These insights demonstrate how weather data can provide valuable information for environmental monitoring and climate research. Weather data analysis plays a vital role in supporting decision-making in agriculture, disaster preparedness, and environmental management. Future work may include developing predictive models for weather forecasting and conducting seasonal trend analysis using machine learning techniques.